Oak-Wilt Detector

Detect Oak Wilt in Tree Images by Edge Forestry AI

Only images with Oak Wilt confidence ≥ 75% will be mapped.

Choose JPG/PNG images

Drag and drop files here
Limit 200MB per file • JPG, JPEG, PNG

Browse files

06.19.25 - GVSU - Drone - Muskegon-42.jpg 3.3MB

Results

Preview	Filename	Prediction	Confidence	GPS
	06.19.25 - GVSU - Drone - Muskegon-42.jpg	There's Oak Wilt in this Image	0.8065	43.253463, -86.340967

Enlarge

Mapped Affected Trees

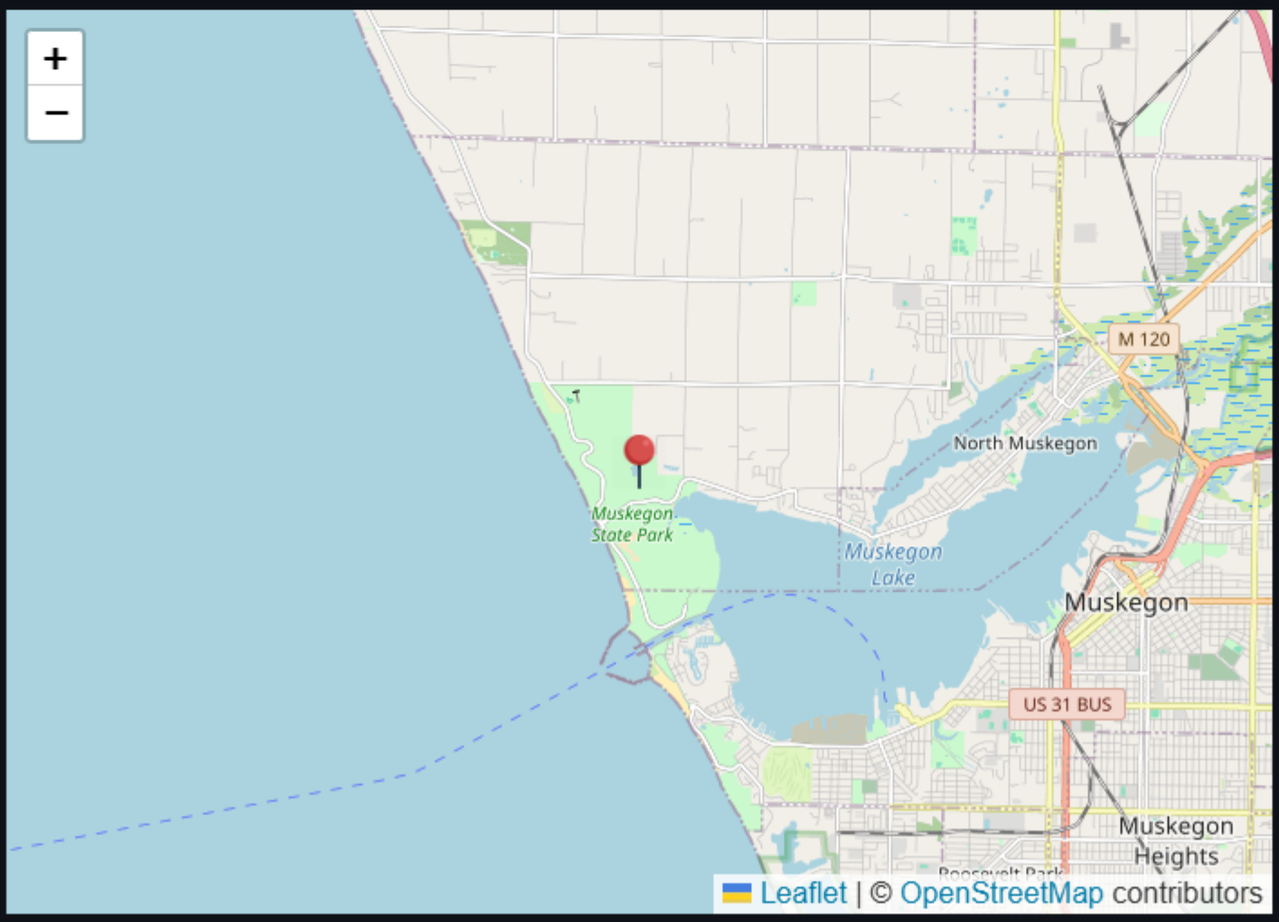

Deploy

Oak-Wilt Detector

Detect Oak Wilt in Tree Images

A product by EDGE FORESTRY AI

Only images with Oak Wilt confidence ≥ 75% will be mapped.

Choose JPG/PNG images

Drag and drop files here
Limit 200MB per file • JPG, JPEG, PNG

Browse files

DJI_20250612104903_0146_D.JPG 10.0MB

DJI_20250612104805_0109_D.JPG 10.3MB

DJI_20250612104739_0092_D.JPG 10.0MB

Showing page 1 of 6

Filter by prediction

All

Results

Preview	Filename	Prediction	Confidence	GPS
Enlarge	DJI_20250612095443_0013_D.JPG	There's Oak Wilt in this Image	0.7844	41.926143, -86.583523
Enlarge	DJI_20250612095521_0040_D.JPG	There's Oak Wilt in this Image	0.8882	41.927015, -86.582336
Enlarge	DJI_20250612095526_0044_D.JPG	There's Oak Wilt in this Image	0.8529	41.926357, -86.582806
 Enlarge	DJI_20250612095557_0066_D.JPG	There's Oak Wilt in this Image	0.7509	41.925515, -86.582837
 Enlarge	DJI_20250612095609_0075_D.JPG	There's Oak Wilt in this Image	0.8702	41.926997, -86.581779
 Enlarge	DJI_20250612095620_0083_D.JPG	There's Oak Wilt in this Image	0.8087	41.928200, -86.580859
Enlarge	DJI_20250612095638_0096_D.JPG	There's Oak Wilt in this Image	0.8378	41.926892, -86.581284

 Enlarge	DJI_20250612095711_0120_D.JPG	There's Oak Wilt in this Image	0.7650	41.925650, -86.581739
 Enlarge	DJI_20250612095746_0143_D.JPG	There's Oak Wilt in this Image	0.9000	41.927804, -86.580294
 Enlarge	DJI_20250612095759_0152_D.JPG	There's Oak Wilt in this Image	0.8330	41.926701, -86.581949
 Enlarge	DJI_20250612104616_0039_D.JPG	There's Oak Wilt in this Image	0.8348	41.917072, -86.585881
Enlarge	DJI_20250612104705_0070_D.JPG	There's Oak Wilt in this Image	0.7779	41.919001, -86.585247
Enlarge	DJI_20250612104720_0080_D.JPG	There's Oak Wilt in this Image	0.8442	41.917114, -86.586484
 Enlarge	DJI_20250612104739_0092_D.JPG	There's Oak Wilt in this Image	0.8038	41.916100, -86.587775
 Enlarge	DJI_20250612104805_0109_D.JPG	There's Oak Wilt in this Image	0.7917	41.919159, -86.585770
	DJI_20250612104903_0146_D.JPG	There's Oak Wilt in this Image	0.7604	41.916404, -86.588207
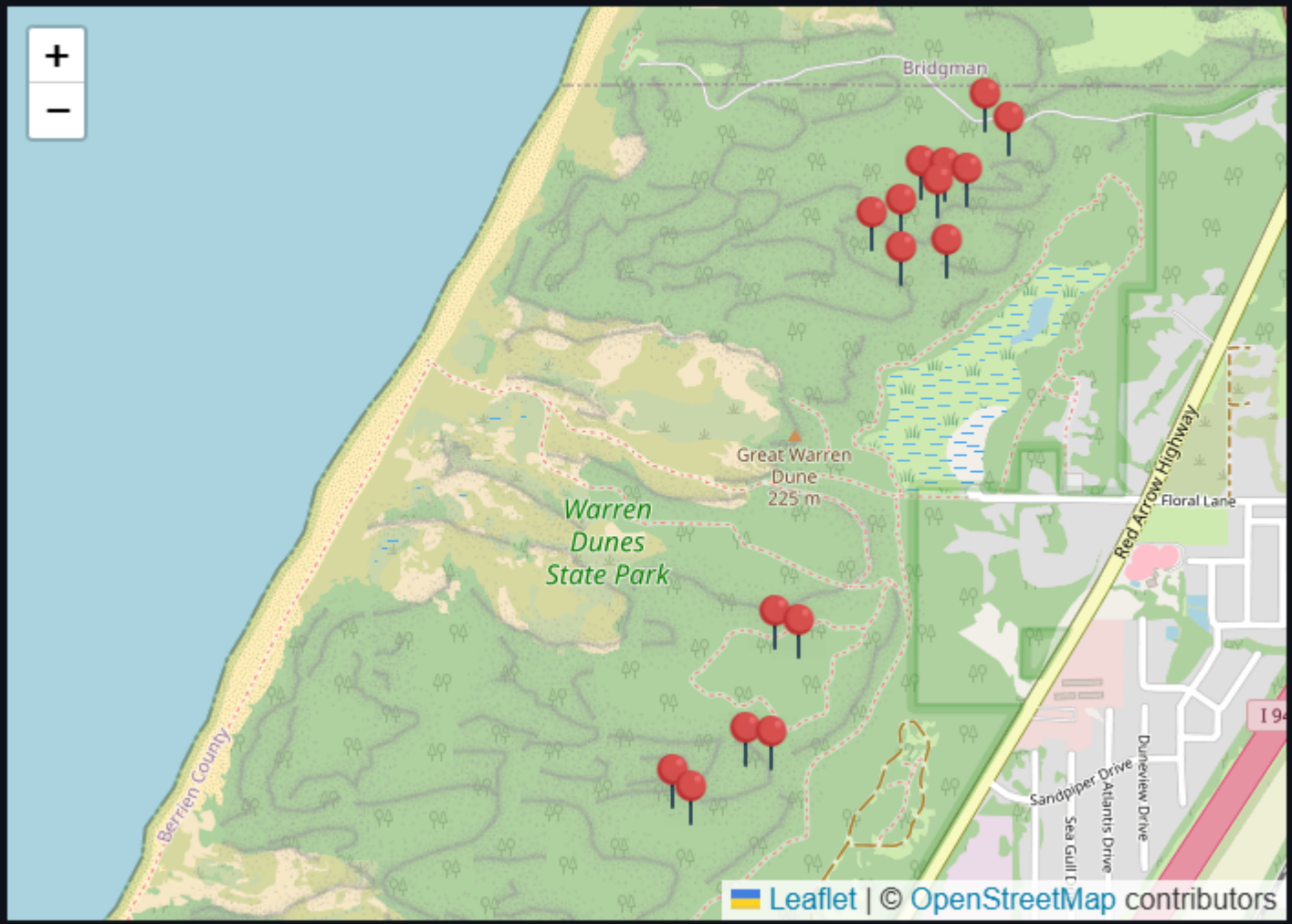
Mapped Affected Trees